To BAND or to BAN

Envisioning street performance scenes in Hong Kong

Developing a comprehensive framework which enables street performance or busking, as vital cultural presence, to support local arts and cultural development, improve social cohesion and urban vibrancy, stimulate creative economy and consumption, and introduce busking as the cultural element favouring tourism.

Identify suitable busking sites in Hong Kong

Provide regulatory recommendation

Develop an all-in-one busking platform

Chan Pik Ki | Liu Ka Yee | Tse Calvin | Wong Yik Tsun | Yeung Ka Lai | Yiu Chun Kit

Stakeholder Engagement & Background Research

351 Survey Responses

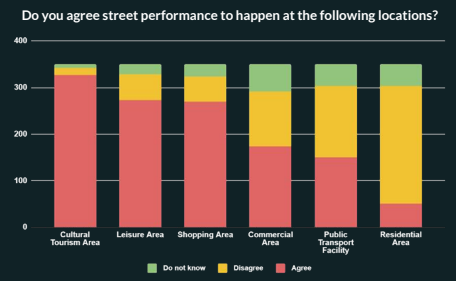

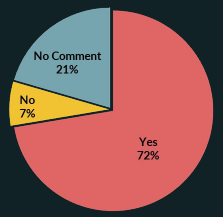

If there are street performance policies and management system in Hong Kong, will you support street performance?

31 Interviews

- 2 Urban Culture Scholars
- 2 Tourism Representatives
- 2 Planners
- 1 Think Tank Representative
- 1 District Council Member
- 2 Business Owners
- 1 Venue Attendant
- 20 Buskers

8 Case Studies

West Kowloon Cultural District

Central Market



30+ Literature Reviews

Identification of Suitable Busking Sites

Data Acquisition

Government/ Institution/ Community Use

地政總署 Lands Department

[Nature_of_Occupation/'Park,Community Center, Market...etc'] in iC1000 Digital Land Boundary Map

Footway

地政總署 Lands Department

[PedNBikePoly] in iB5000 Digital Topographic Map

路政署 HIGHWAYS DEPARTMENT

Pavement Polygon

Open Space

地政總署 Lands Department

[Site/'Leisure'] in iB1000 Digital Topographic Map

[UserType/'OS'] in Government Land Allocation

規劃署 PLANNING DEPARTMENT

Outline Zoning Plan (OZP)

Noise Mitigation

規劃署 PLANNING DEPARTMENT

2021 Raster Grids on Land Utilization

Education Bureau

Kindergartens, Schools, Education Institutions etc.

民政事務總署 Home Affairs Department

List of licensed hotels and guesthouses

醫院管理局 HOSPITAL AUTHORITY

Hospital/Institution List

漁農自然護理署 Agriculture, Fisheries and Conservation Department

Country Parks and Special Areas Distribution Map

Structures / Private Lot

地政總署 Lands Department

[Building] in iB1000 Digital Topographic Map

[Lot] in iC1000 Digital Land Boundary Map

Data Analysis

Target Areas

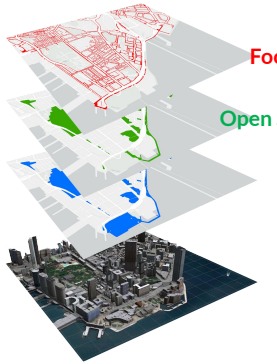

-

Excluded Areas

=

Potential Sites

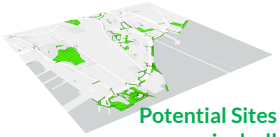

Selection Considerations:

- Zoning/Land Use
- Noise Buffer
- Pavement Width

Features:

- Amplifier-prohibited Zone
- License-required Locations
- Booking Quota

Real Life Application

Regulatory Recommendation

Performance Type

Zoning

Noise

Licence

Designated Area

Proximity to Residential Area

Popularity


Accessibility

Online Busking Platform

- Make booking
- View statistics
- Collect feedback

Buska+ HK